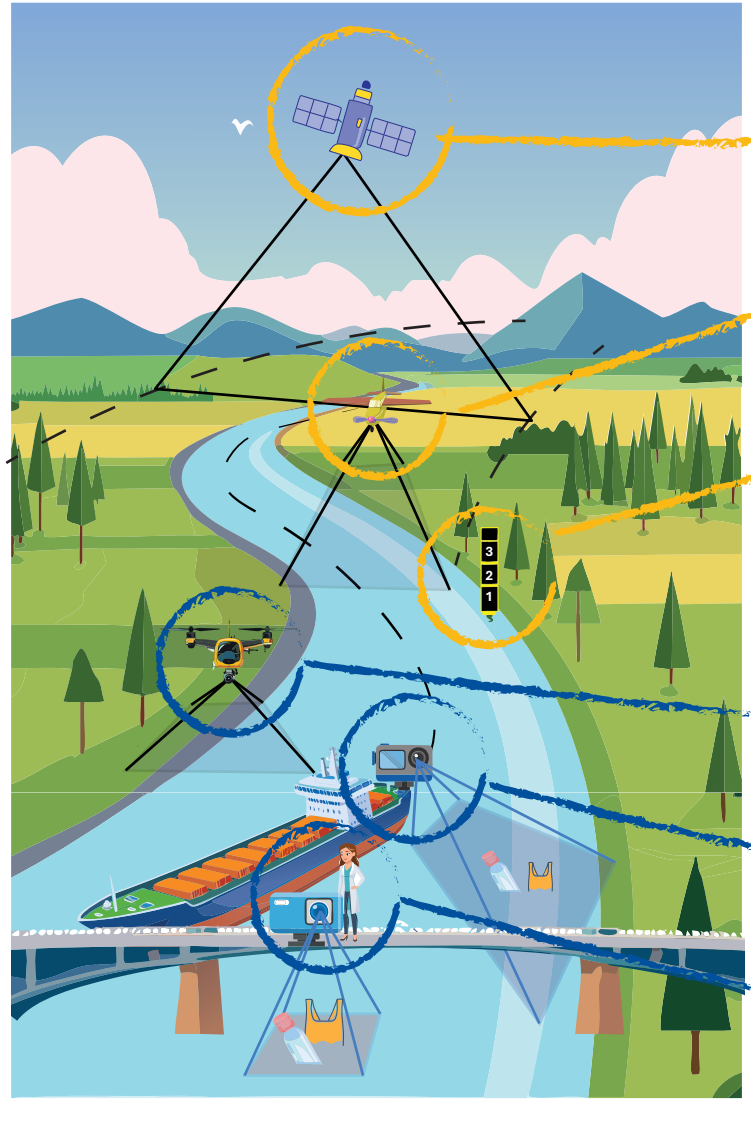

Non-Experimental Data (WP2)

Satellite Imagery
Sentinel-1&2, PlanetScope, EnMAP

Large-scale Aerial Imagery
own hyperspectral flights & geobasis

Basin river level data
from PEGELONLINE and CHR

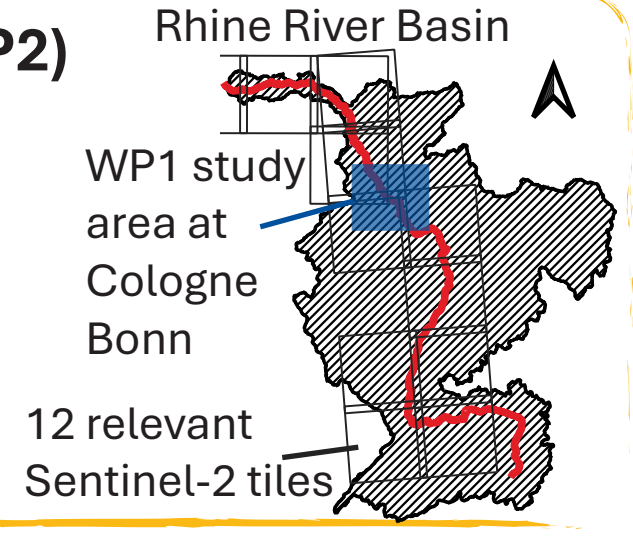

Experimental Data (WP1)

Uncrewed Aerial Vehicles (UAVs)
shore-flights - RGB and hyperspec. cameras

Cargoship Monitoring
ship-mounted cameras at water & shore
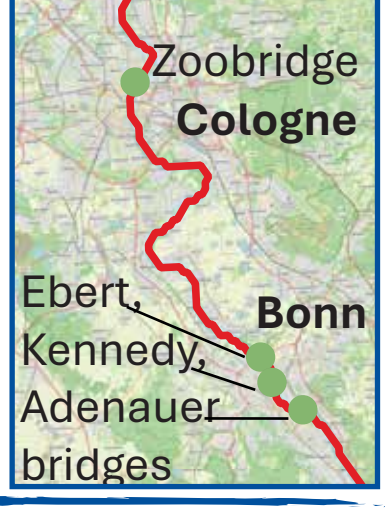
Bridge Imagery
water-facing bridge-mounted RGB camera