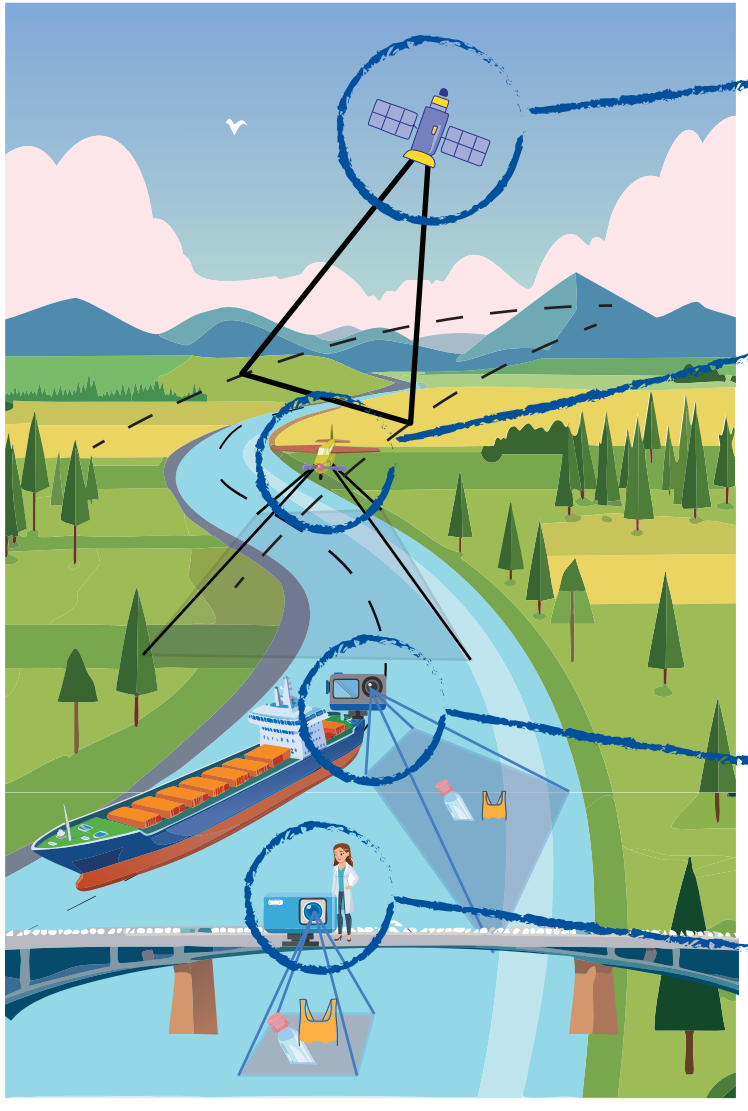

Satellite Monitoring

Hotspots with large-scale continuous multi-spectral imagery (3-10m) resolution

CARL VON OSSIETZKY UNIVERSITÄT OLDENBURG

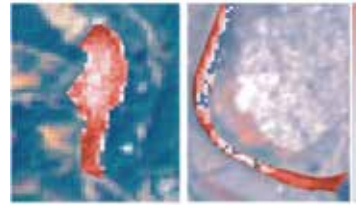

Large-scale Aerial Flights

multi- and hyperspectral sensors in centi- to decimeters resolution for individual litter identification

Local UAV Flights on Hotspots

TBD RGB or Multi-spectral cameras (MAIA)

Cargoship Monitoring

Point-wise monitoring along the river using cameras on cargoships

BONN

Bridge (Camera) Counting
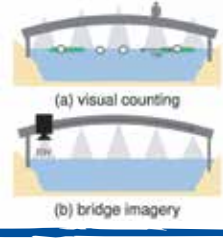
counting debris and litter from bridges manually or aided by cameras